P2 - Plotting oceanographic data and timeseries

Tristan Mitchell: MTCTRI001

Part 1- Temperature and Salinity Profiles

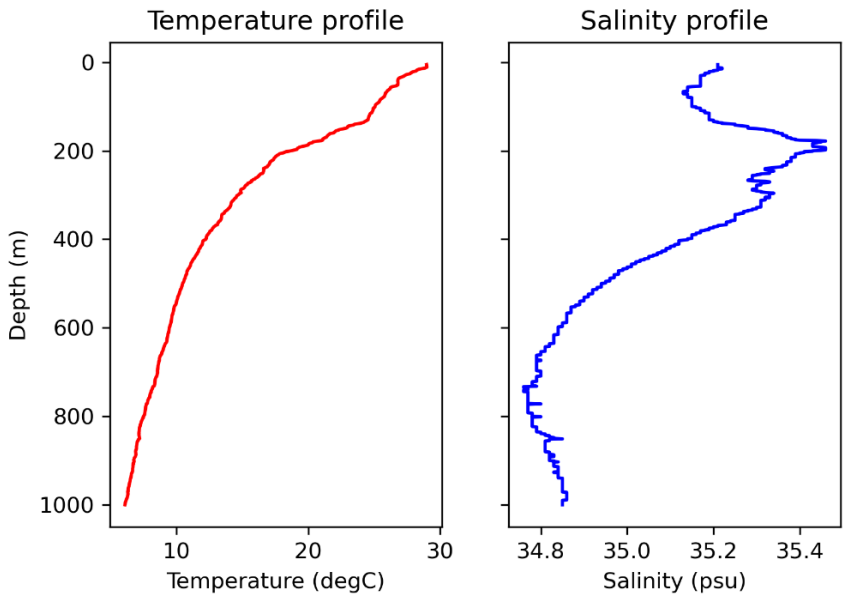

Figure 1: Temperature and salinity profiles from the CTD dataset. The plots share the same depth axis, with depth increasing downward.

Part 2 - Temperature Time Series

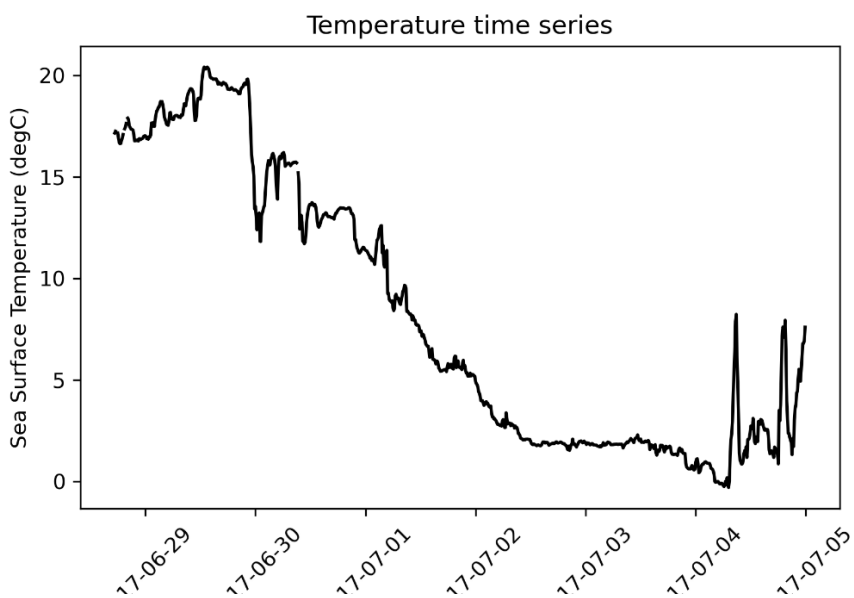

Figure 2: Time series of sea surface temperature measured during the SA Agulhas II cruise between 28 June and 4 July 2017.

Part 2 - Salinity Distribution

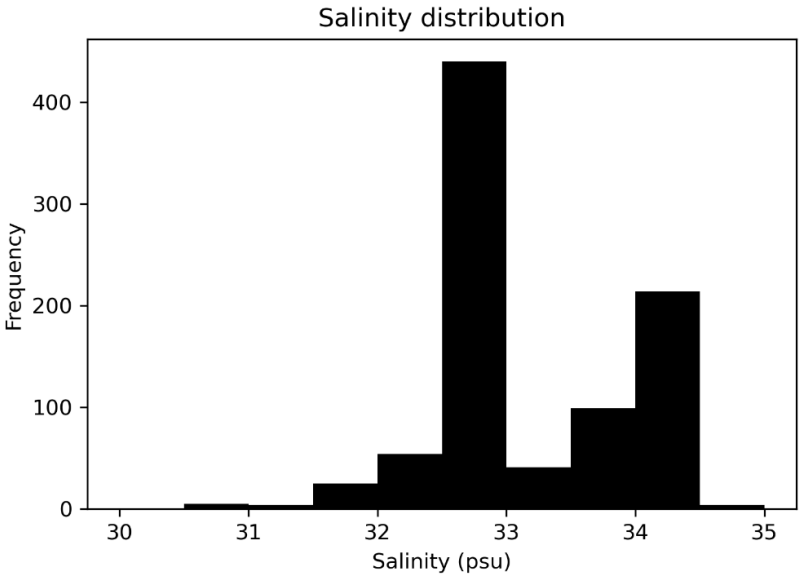

Figure 3: Histogram showing the distribution of sea surface salinity values using bins of 0.5 psu between 30 and 35 psu.

Part 2 - Temperature and Salinity Statistics

Table 1: Mean, standard deviation, and interquartile range for temperature and salinity measurements during the cruise.

	Mean	Std Dev	IQR
Temperature	8.146541	6.747988	11.76885
Salinity	33.11055	1.14015	1.272575

Part 2 - Wind Speed vs Air Temperature

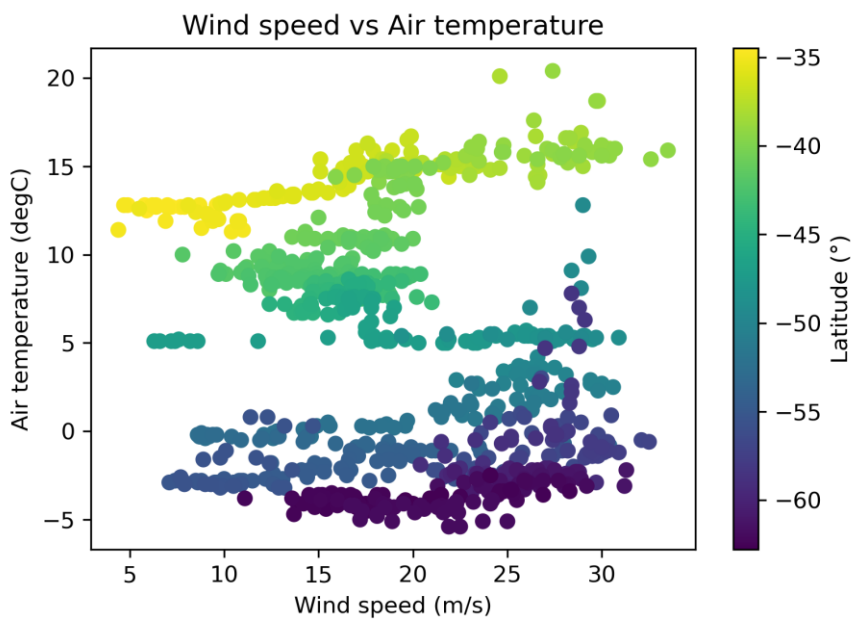

Figure 4: Scatter plot of wind speed versus air temperature with latitude encoded using a colour scale.